PANDAPAS DIGITAL COMPASS

The Pandapas Pond Digital Compass System was a Human-Computer Interaction project. I worked with two other students with whom I collaborated on the two Work Activity Affinity Diagrams on this page and the Wireframes on the next page. All other diagrams and models are my own original work. The final product was a medium fidelity prototype of an information system for a natural area, and it earned a 90% grade in Introduction to Human-Computer Interaction at Virginia Tech in Summer 2020.

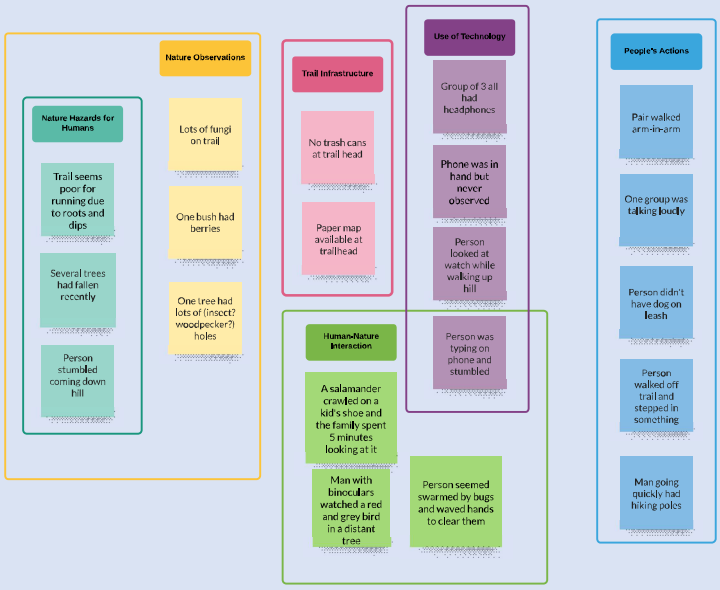

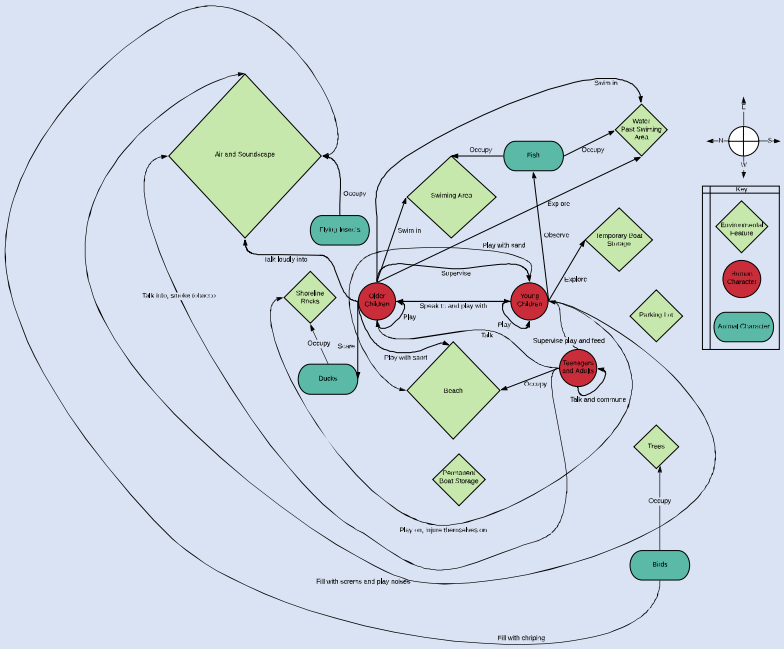

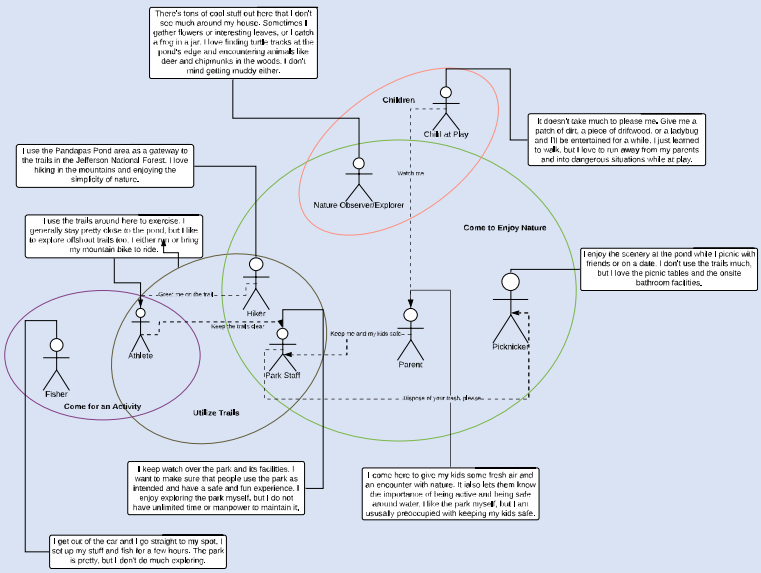

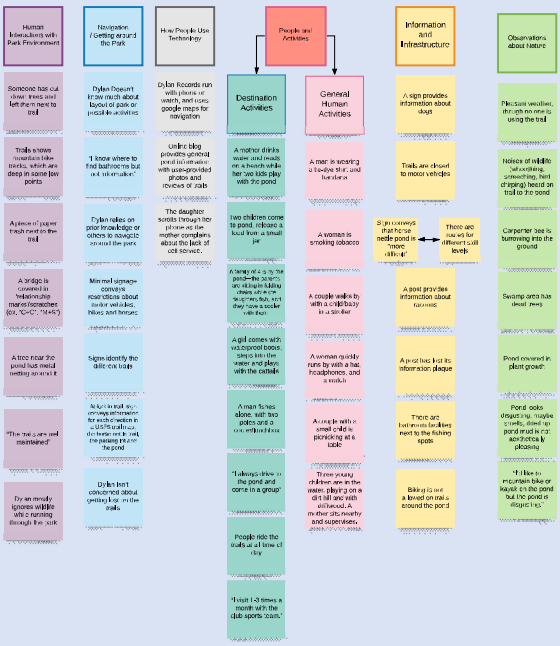

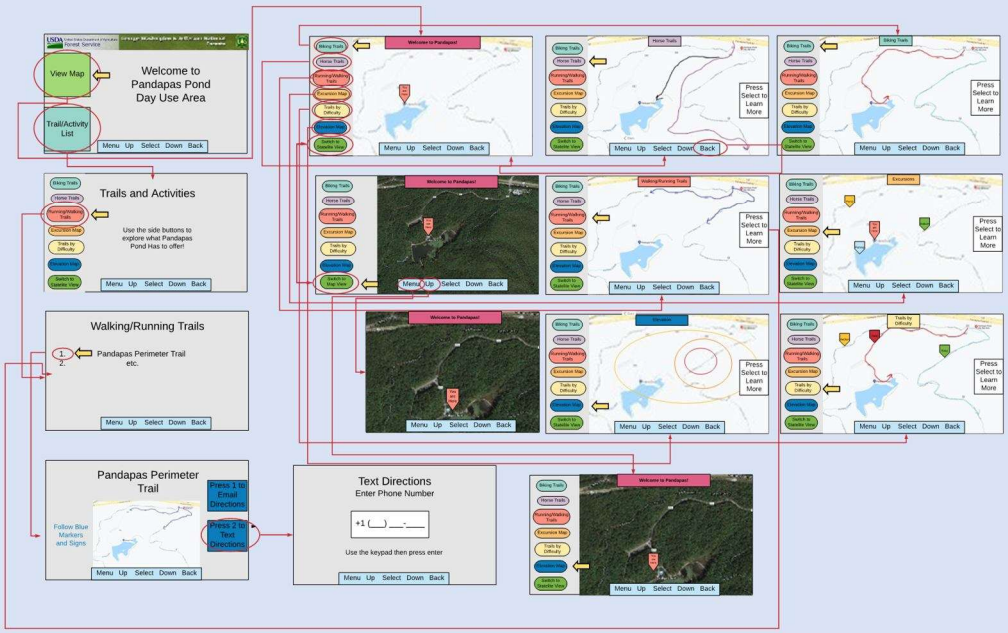
Welcome to Pandapas Pond Day Use Area
View Map
Trail/Activity List
Menu Up Select Down Back
Trails and Activities
Use the side buttons to explore what Pandapas Pond Has to offer!
Walking/Running Trails
Pandapas Perimeter Trail etc.
Pandapas Perimeter Trail
Follow Blue Markers and Signs
Press 1 to Email Directions
Press 2 to Text Directions
Text Directions
Enter Phone Number
+1 (___) ___-____
Use the keypad then press enter
Welcome to Pandapas!
Horse Trails
Press Select to Learn More
Walking/Running Trails
Excursions
Trails by Difficulty